UNITED REPUBLIC OF TANZANIA
MINISTRY OF TRANSPORT
TANZANIA METEOROLOGICAL AUTHORITY

Five days Severe weather impact-based forecasts

Issued on Monday: 05-05-2025: 15:30 (EAT)

Monday: 05-05-2025

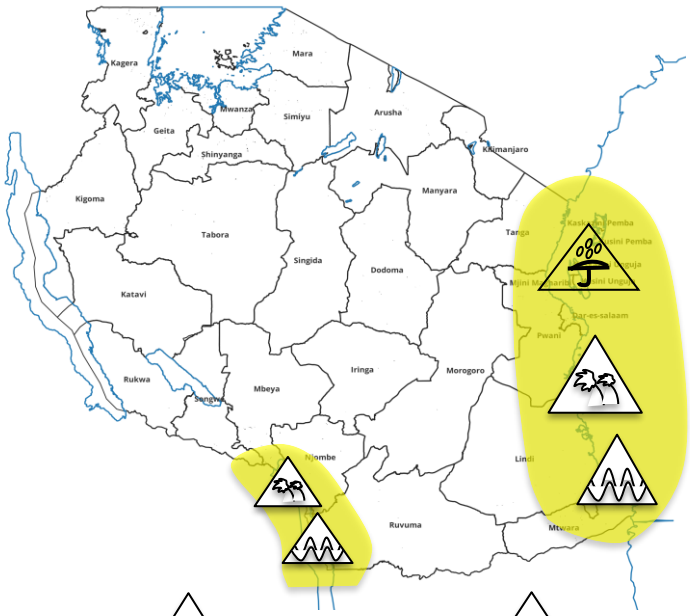

KEY:

Heavy rain **Strong winds.** **Large waves.**

ADVISORY **WARNING** **MAJOR WARNING**

ADVISORY of heavy rain is issued over few areas of Tanga, Dar es salaam and Pwani (including Mafia isles) regions together with Unguja and Pemba isles.

Likelihood: MEDIUM
Impact: MEDIUM

ADVISORY of strong winds reaching 40km/hr and large waves reaching 2m is issued for some areas along the entire coast of Indian ocean (Tanga, Dar es salaam, Pwani (including Mafia isles), Lindi and Mtwara regions together with Unguja and Pemba isles) and along lake Nyasa (Njombe, Ruvuma and Mbeya regions).

Likelihood: MEDIUM
Impact: MEDIUM

Impacts expected:
Localized floods over few areas and disruption of some economic and marine activities.

Please be prepared.

All correspondences should be directed to:
Director General, Tanzania Meteorological Authority,
University of Dodoma, Administration block, College of Informatics and Virtual Education,
1 CIVE Street, P.O. Box 27, 41218 Dodoma; Tel: + 255 26 2962610: Fax: +255 26 2962610
Email; met@meteo.go.tz; Website: www.meteo.go.tz

(ISO 9001:2015 Certified in Aviation Services)

UNITED REPUBLIC OF TANZANIA
MINISTRY OF TRANSPORT
TANZANIA METEOROLOGICAL AUTHORITY

Five days Severe weather impact-based forecasts

Tuesday: 06-05-2025	Wednesday: 07-05-2025	Thursday: 08-05-2025	Friday: 09-05-2025
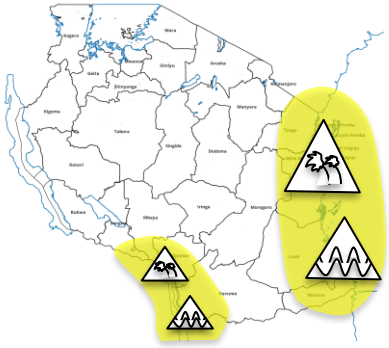	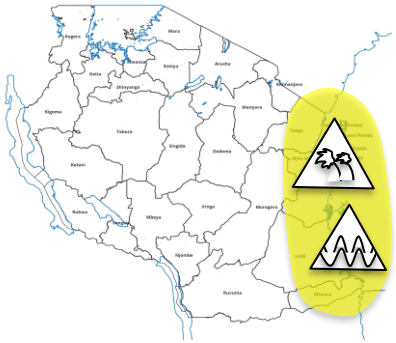		
ADVISORY of strong winds reaching 40km/hr and large waves reaching 2m is issued for some areas along the entire coast of Indian ocean (Tanga, Dar es salaam, Pwani (including Mafia isles), Lindi and Mtwara regions together with Unguja and Pemba isles) and along lake Nyasa (Njombe, Ruvuma and Mbeya regions). Likelihood: MEDIUM Impact: MEDIUM Impacts expected: Disruption of some economic and marine activities. **Please be prepared.**	ADVISORY of strong winds reaching 40km/hr and large waves reaching 2m is issued for some areas along the entire coast of Indian ocean (Tanga, Dar es salaam, Pwani (including Mafia isles), Lindi and Mtwara regions together with Unguja and Pemba isles). Likelihood: MEDIUM Impact: MEDIUM Impacts expected: Disruption of some economic and marine activities. **Please be prepared.**	NO WARNING.	NO WARNING.

All correspondences should be directed to:
Director General, Tanzania Meteorological Authority,
University of Dodoma, Administration block, College of Informatics and Virtual Education,
1 CIVE Street, P.O. Box 27, 41218 Dodoma; Tel: + 255 26 2962610: Fax: +255 26 2962610
Email; met@meteo.go.tz; Website: www.meteo.go.tz

(ISO 9001:2015 Certified in Aviation Services)