# THE UNITED REPUBLIC OF TANZANIA

**Three days impact-based forecast bulletin**

#21 Issued on Monday, September 2, 2024, 6:38

DISASTER MANAGEMENT DEPARTMENT
PRIME MINISTER OFFICE (POLICY, PARLIAMENT AND COORDINATION)
DEPARTMENT OF WATER RESOURCES
MINISTRY OF WATER
TANZANIA METEOROLOGICAL AUTHORITY
MINISTRY OF TRANSPORT

## DAY 1 - 02-09-2024

**Heavy Rain**

**Large Waves**

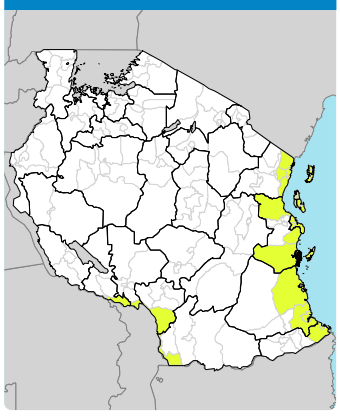

**Strong Winds**

**Floods**

## Multi-hazard assessment and recommendations

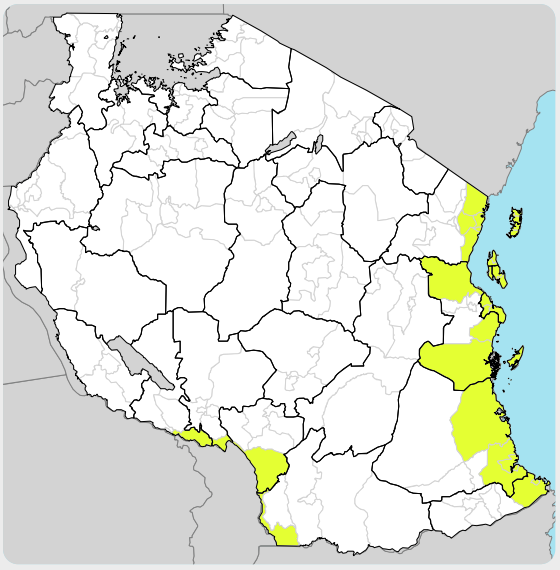

MAJOR WARNING

WARNING

ADVISORY

## Outlook

### Comments TMA

ADVISORY of strong winds reaching 40km/hr and large waves reaching 2m is issued for some areas along the entire coast of the Indian ocean (Tanga, Dar es salaam, Pwani (including Mafia isles), Lindi and Mtwara regions together with Unguja and Pemba isles) and some areas along Lake Nyasa (Mbeya, Njombe and Ruvuma regions).

Likelihood: MEDIUM

### Comments MoW

No warning

# THE UNITED REPUBLIC OF TANZANIA

**Three days impact-based forecast bulletin**

#21 Issued on Monday, September 2, 2024, 6:38

DISASTER MANAGEMENT DEPARTMENT
PRIME MINISTER OFFICE (POLICY, PARLIAMENT AND COORDINATION)
DEPARTMENT OF WATER RESOURCES
MINISTRY OF WATER
TANZANIA METEOROLOGICAL AUTHORITY
MINISTRY OF TRANSPORT

## DAY 2 - 03-09-2024

**Heavy Rain**

**Large Waves**

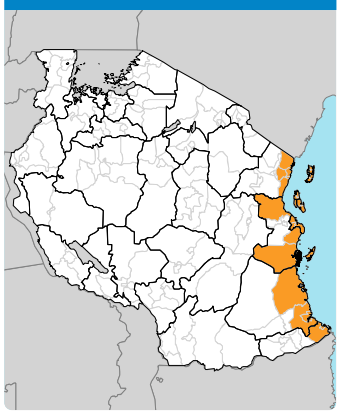

**Strong Winds**

**Floods**

## Multi-hazard assessment and recommendations

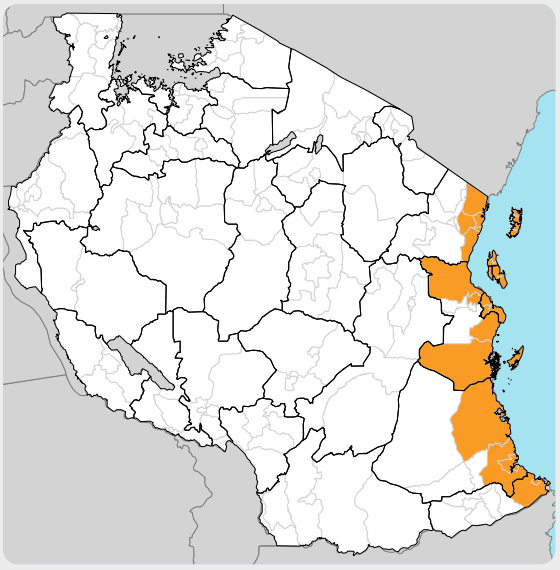

MAJOR WARNING

WARNING

ADVISORY

## Outlook

### Comments TMA

WARNING of strong winds exceeding 40km/hr and large waves exceeding 2m is issued for some areas along the entire coast of the Indian ocean (Tanga, Dar es salaam, Pwani (including Mafia isles), Lindi and Mtwara regions together with Unguja and Pemba isles).

Likelihood: HIGH
Impact: MEDIUM

### Comments MoW

No warning

# THE UNITED REPUBLIC OF TANZANIA

**Three days impact-based forecast bulletin**

#21 Issued on Monday, September 2, 2024, 6:38

DISASTER MANAGEMENT DEPARTMENT
PRIME MINISTER OFFICE (POLICY, PARLIAMENT AND COORDINATION)
DEPARTMENT OF WATER RESOURCES
MINISTRY OF WATER
TANZANIA METEOROLOGICAL AUTHORITY
MINISTRY OF TRANSPORT

## DAY 3 - 04-09-2024

**Heavy Rain**

**Large Waves**

**Strong Winds**

**Floods**

## Multi-hazard assessment and recommendations

MAJOR WARNING

WARNING

ADVISORY

## Outlook

### Comments TMA

ADVISORY of strong winds reaching 40km/hr is issued for some areas along the southern coast of the Indian ocean (Lindi and Mtwara regions).

Likelihood: MEDIUM
Impact: MEDIUM

### Comments MoW

No warning

# THE UNITED REPUBLIC OF TANZANIA

**Three days impact-based forecast bulletin**

#21 Issued on Monday, September 2, 2024, 6:38

DISASTER MANAGEMENT DEPARTMENT
PRIME MINISTER OFFICE (POLICY, PARLIAMENT AND COORDINATION)
DEPARTMENT OF WATER RESOURCES
MINISTRY OF WATER
TANZANIA METEOROLOGICAL AUTHORITY
MINISTRY OF TRANSPORT

## SUMMARY WARNING DAY 1

**MAJOR WARNING**

**WARNING**

**ADVISORY**

Bagamoyo, Chake Chake, Ilala, Ileje, Kaskazini A, Kaskazini B, Kati, Kilwa, Kinondoni, Kusini, Kyela, Lindi, Lindi Urban, Ludewa, Mafia, Magharibi, Micheweni, Mkinga, Mkoani, Mkuranga, Mtwara, Mtwara Urban, Muheza, Nyasa, Pangani, Rufiji, Tanga Urban, Temeke, Wete

## SUMMARY WARNING DAY 2

**MAJOR WARNING**

**WARNING**

Bagamoyo, Chake Chake, Ilala, Kaskazini A, Kaskazini B, Kati, Kibaha Urban, Kilwa, Kinondoni, Kusini, Lindi, Lindi Urban, Mafia, Magharibi, Micheweni, Mkinga, Mkoani, Mkuranga, Mtwara, Mtwara Urban, Muheza, Pangani, Rufiji, Tanga Urban, Temeke, Wete

**ADVISORY**

## SUMMARY WARNING DAY 3

**MAJOR WARNING**

**WARNING**

**ADVISORY**

Kilwa, Lindi, Lindi Urban, Mtwara, Mtwara Urban

Contact us: eocctz@pmo.go.tz

This bulletin for the United Republic of Tanzania is produced by the Disaster Management Department of the Prime Minister Office with the technical and scientific assistance of the Tanzania Meteorological Authority, the Ministry of Water, UNDRR and CIMA Foundation, with support of the Italian Government.

Ministero degli Affari Esteri e della Cooperazione Internazionale

ITALIAN AGENCY FOR DEVELOPMENT COOPERATION

UNDRR UN Office for Disaster Risk Reduction

cima RESEARCH FOUNDATION