THE UNITED REPUBLIC OF TANZANIA

Three days impact-based forecast bulletin

#45 Issued on Wednesday, December 4, 2024, 9:49

DISASTER MANAGEMENT DEPARTMENT
PRIME MINISTER OFFICE (POLICY, PARLIAMENT AND COORDINATION)
DEPARTMENT OF WATER RESOURCES
MINISTRY OF WATER
TANZANIA METEOROLOGICAL AUTHORITY
MINISTRY OF TRANSPORT

DAY 1 - 04-12-2024

Heavy Rain

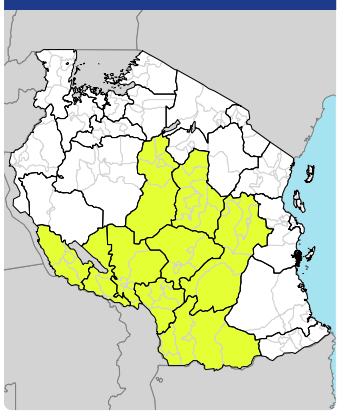

Large Waves

Strong Winds

Floods

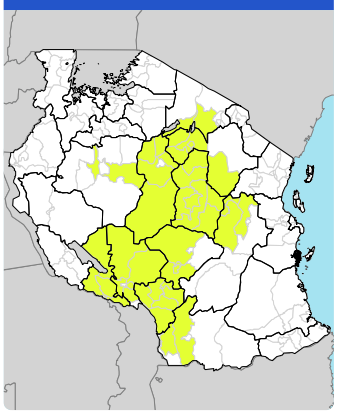

Multi-hazard assessment and recommendations

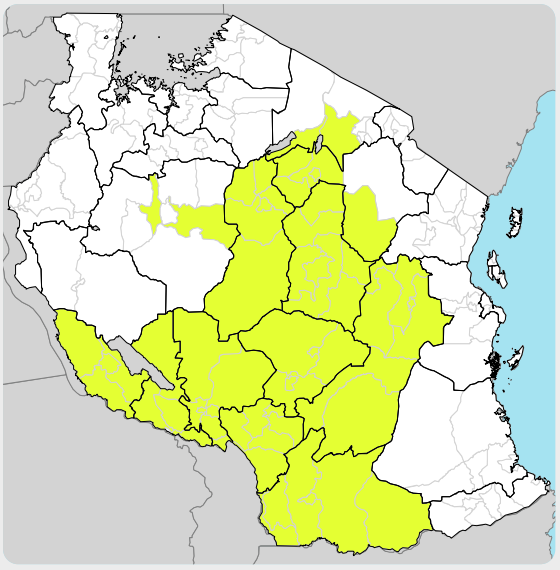

MAJOR WARNING

WARNING

ADVISORY

Outlook

Comments TMA

ADVISORY of heavy rain is issued over few areas along the Southwestern highlands (Mbeya, Iringa, Njombe, Rukwa and Songwe regions), Central part of the country (Dodoma and Singida regions), Southern region (Ruvuma region) and Morogoro region.

Likelihood: MEDIUM
Impact: MEDIUM

Comments MoW

ADVISORY of the potential for increased water flows and levels in rivers, streams, dams, and lakes over few areas along the Wami Ruvu basin, Pangani basin, Internal drainage basin, Rufiji basin, Lake rukwa basin and Lake nyasa basin.

Likelihood: MEDIUM

THE UNITED REPUBLIC OF TANZANIA

Three days impact-based forecast bulletin

#45 Issued on Wednesday, December 4, 2024, 9:49

DISASTER MANAGEMENT DEPARTMENT
PRIME MINISTER OFFICE (POLICY, PARLIAMENT AND COORDINATION)
DEPARTMENT OF WATER RESOURCES
MINISTRY OF WATER
TANZANIA METEOROLOGICAL AUTHORITY
MINISTRY OF TRANSPORT

DAY 2 - 05-12-2024

Heavy Rain

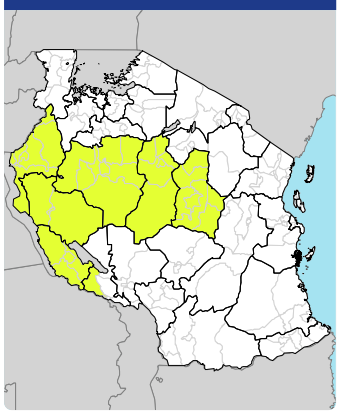

Large Waves

Strong Winds

Floods

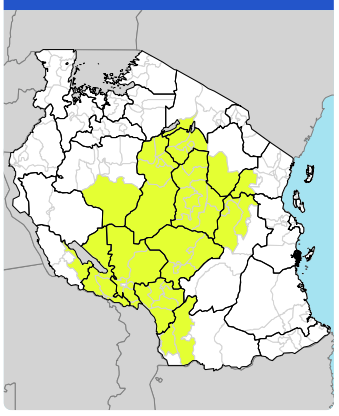

Multi-hazard assessment and recommendations

MAJOR WARNING

WARNING

ADVISORY

Outlook

Comments TMA

ADVISORY of heavy rain is issued over some areas along the Western part (Kigoma, Katavi, Tabora regions) and Central part of the country (Dodoma and Singida regions) and Rukwa region.

Likelihood: MEDIUM
Impact: MEDIUM

Comments MoW

ADVISORY of the potential for increased water flows and levels in rivers, streams, dams, and lakes over few areas along the Wami Ruvu basin, Pangani basin, Internal drainage basin, Rufiji basin, Lake rukwa basin and Lake nyasa basin.

Likelihood: MEDIUM

Impact: MEDIUM

THE UNITED REPUBLIC OF TANZANIA

Three days impact-based forecast bulletin

#45 Issued on Wednesday, December 4, 2024, 9:49

DISASTER MANAGEMENT DEPARTMENT
PRIME MINISTER OFFICE (POLICY, PARLIAMENT AND COORDINATION)
DEPARTMENT OF WATER RESOURCES
MINISTRY OF WATER
TANZANIA METEOROLOGICAL AUTHORITY
MINISTRY OF TRANSPORT

DAY 3 - 06-12-2024

Heavy Rain

Large Waves

Strong Winds

Floods

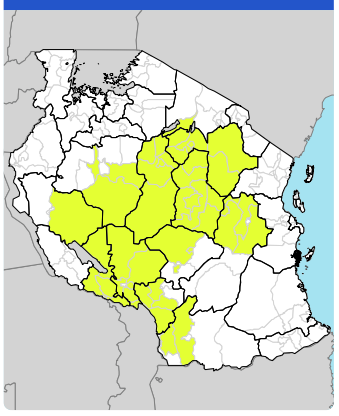

Multi-hazard assessment and recommendations

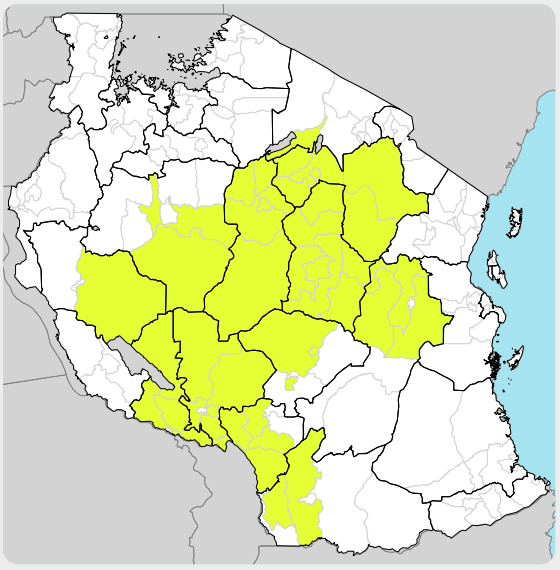

MAJOR WARNING

WARNING

ADVISORY

Outlook

Comments TMA

NO WARNING.

Comments MoW

ADVISORY of the potential for increased water flows and levels in rivers, streams, dams, and lakes over few areas along the Tanganyika basin, Wami Ruvu basin, Pangani basin, Internal drainage basin, Rufiji basin, Lake rukwa basin and Lake nyasa basin.

Likelihood: MEDIUM

THE UNITED REPUBLIC OF TANZANIA

Three days impact-based forecast bulletin

#45 Issued on Wednesday, December 4, 2024, 9:49

DISASTER MANAGEMENT DEPARTMENT
PRIME MINISTER OFFICE (POLICY, PARLIAMENT AND COORDINATION)
DEPARTMENT OF WATER RESOURCES
MINISTRY OF WATER
TANZANIA METEOROLOGICAL AUTHORITY
MINISTRY OF TRANSPORT

SUMMARY WARNING DAY 1

MAJOR WARNING

WARNING

ADVISORY

Babati, Babati Urban, Bahi, Chamwino, Chemba, Chunya, Dodoma Urban, Gairo, Hanang, Ikungi, Ileje, Iramba, Iringa, Iringa Urban, Kalambo, Karatu, Kilolo, Kilombero, Kilosa, Kiteto, Kondoa, Kongwa, Kyela, Ludewa, Mafinga Township Authority, Makambako Township Authority, Makete, Manyoni, Mbarali, Mbeya, Mbeya Urban, Mbinga, Mbozi, Mbulu, Mkalama, Momba, Monduli, Morogoro, Morogoro Urban, Mpwapwa, Mufindi, Mvomero, Namtumbo, Njombe, Njombe Urban, Nkasi, Nyasa, Rungwe, Singida, Singida Urban, Songea, Songea Urban, Songwe, Sumbawanga, Sumbawanga Urban, Tunduru, Ulanga, Uyui, Wanging'ombe

SUMMARY WARNING DAY 2

MAJOR WARNING

WARNING

ADVISORY

Babati, Babati Urban, Bahi, Buhigwe, Chamwino, Chemba, Chunya, Dodoma Urban, Gairo, Hanang, Igunga, Ikungi, Ileje, Iramba, Iringa, Iringa Urban, Kakonko, Kalambo, Kaliua, Karatu, Kasulu, Kasulu Township Authority, Kibondo, Kigoma, Kilindi, Kilolo, Kilosa, Kiteto, Kondoa, Kongwa, Kyela, Ludewa, Mafinga Township Authority, Makambako Township Authority, Makete, Manyoni, Mbarali, Mbeya, Mbinga, Mbozi, Mbulu, Mkalama, Mlele, Momba, Mpanda, Mpanda Urban, Mpwapwa, Mufindi, Mvomero, Njombe, Njombe Urban, Nkasi, Nzega, Rungwe, Sikonge, Singida, Singida Urban, Songea, Songwe, Sumbawanga, Sumbawanga Urban, Tabora Urban, Urambo, Uvinza, Uyui, Wanging'ombe

SUMMARY WARNING DAY 3

MAJOR WARNING

WARNING

ADVISORY

Babati, Babati Urban, Bahi, Chamwino, Chemba, Chunya, Dodoma Urban, Gairo, Hanang, Ikungi, Ileje, Iramba, Iringa, Iringa Urban, Karatu, Kilosa, Kiteto, Kondoa, Kongwa, Kyela, Ludewa, Mafinga Township Authority, Makete, Manyoni, Mbarali, Mbeya, Mbinga, Mbozi, Mbulu, Mkalama, Mlele, Momba, Morogoro, Mpwapwa, Mvomero, Njombe Urban, Rungwe, Sikonge, Simanjiro, Singida, Singida Urban, Songea, Songwe, Uyui, Wanging'ombe

This bulletin for the United Republic of Tanzania is produced by the Disaster Management Department of the Prime Minister Office with the technical and scientific assistance of the Tanzania Meteorological Authority, the Ministry of Water, UNDRR and CIMA Foundation, with support of the Italian Government.

Ministero degli Affari Esteri e della Cooperazione Internazionale

ITALIAN AGENCY FOR DEVELOPMENT COOPERATION

UNDRR UN Office for Disaster Risk Reduction

cima RESEARCH FOUNDATION